Project Development Phase
Model Performance Test

Date	29 June 2025
Team ID	LTVIP2026TMIDS45140
Project Name	Heritage Treasures: An In-Depth Analysis of UNESCO World Heritage Sites in Tableau
Maximum Marks	

Model Performance Testing:

Project team shall fill the following information in model performance testing template.

S.No.	Parameter	Screenshot / Values
1.	Data Rendered	Successfully imported UNESCO dataset with fields including Name_en, Country, Region, Danger, Date_inscribed, and more. Data is correctly displayed in Tableau and linked to visualizations. 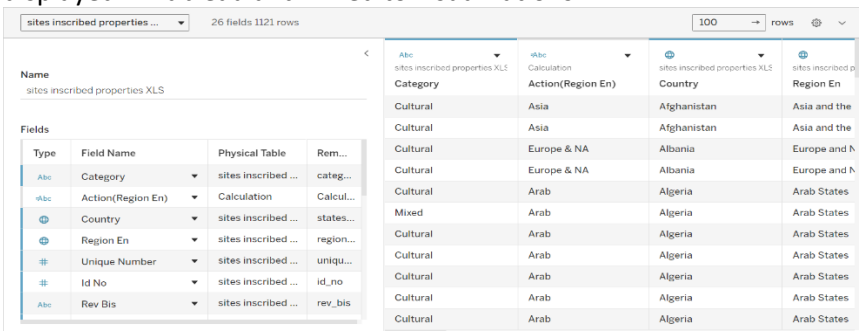
2.	Data Preprocessing	Removed missing/null values, ensured data types (dates, strings, boolean) were correctly set, and added calculated fields such as year extraction from Date_inscribed. Filtered out redundant columns. Number of rows after cleaning data:1121
3.	Utilization of Filters	Implemented filters on **Country**, **Region**, **Danger Status**, and **Year**. Filters are interactive and applied to all visualizations for dynamic exploration.

		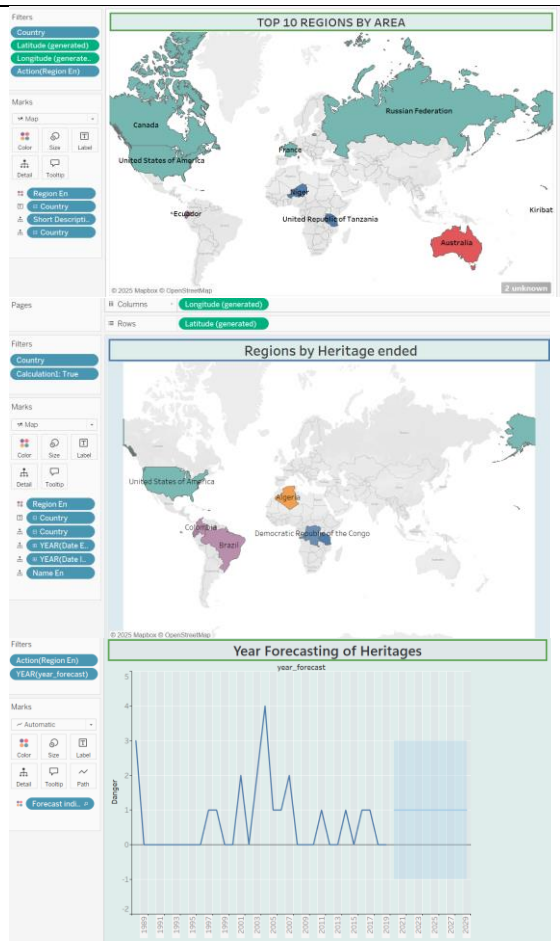
4.	Calculation fields Used	Year Extracted from Date_inscribed • Count of Sites by Country • Danger Flag Conversion for Pie Chart (IF [Danger] = 'Yes' THEN 'In Danger' ELSE 'Not in Danger') • Region-wise Risk Rate: SUM(IF [Danger] = 'Yes' THEN 1 ELSE 0) / COUNT([Name_en]) • Decade of Inscription: INT(YEAR([Date_inscribed]) / 10) * 10 • Country-wise Site Percentage: (COUNTD([Name_en]) / TOTAL(COUNTD([Name_en]))) * 100
5.	Dashboard design	No of Visualizations / Graphs – 8 No of Dashboards designs- 2

		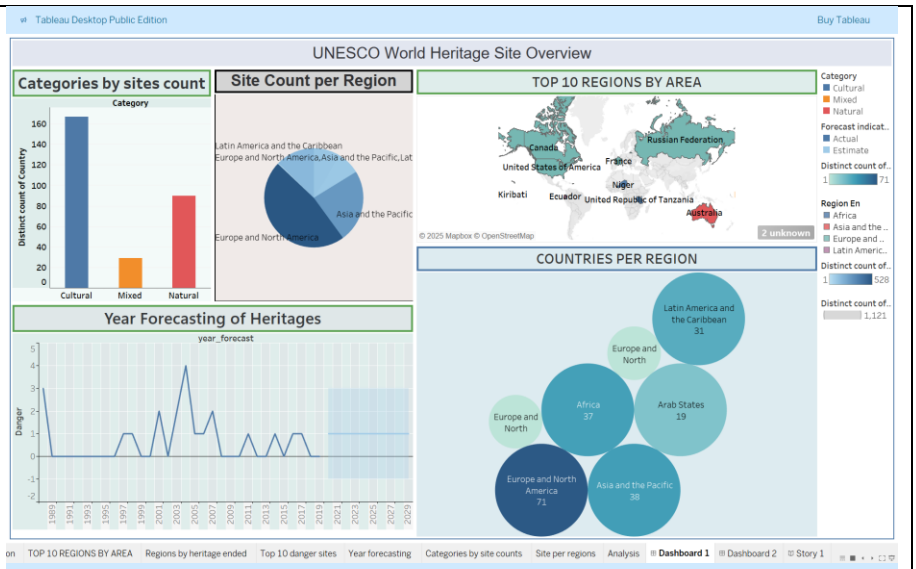 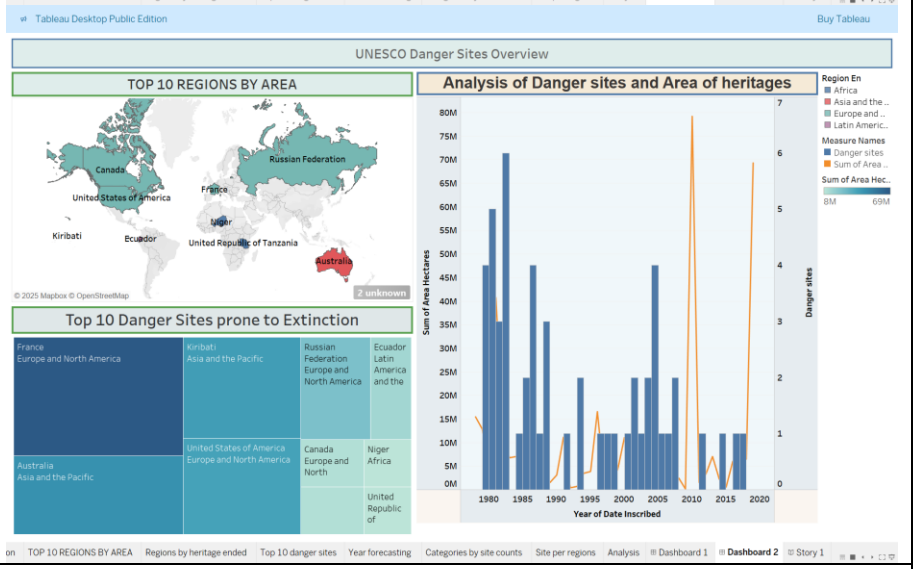
6	Story Design	No of Visualizations / Graphs -8 No of Story Design- 1

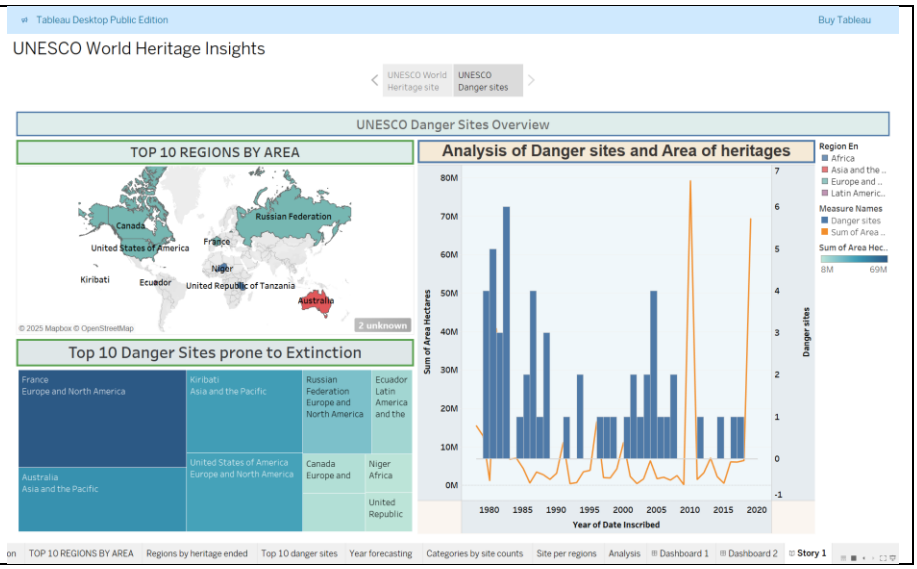
Tableau Desktop Public Edition
Buy Tableau
UNESCO World Heritage Insights
UNESCO World Heritage site
UNESCO Danger sites
UNESCO Danger Sites Overview
TOP 10 REGIONS BY AREA
Canada
United States of America
Russian Federation
France
Niger
Kiribati
Ecuador
United Republic of Tanzania
Australia
© 2025 Mapbox © OpenStreetMap
2 unknown
Top 10 Danger Sites prone to Extinction
France Europe and North America
Kiribati Asia and the Pacific
Russian Federation Europe and North America
Ecuador Latin America and the
Australia Asia and the Pacific
United States of America Europe and North America
Canada Europe and
Niger Africa
United Republic
Analysis of Danger sites and Area of heritages
Sum of Area Hectares
Danger sites
Year of Date Inscribed
Region En
Africa
Asia and the ..
Europe and ..
Latin Americ..
Measure Names
Danger sites
Sum of Area ..
Sum of Area Hec..
8M
69M
TOP 10 REGIONS BY AREA
Regions by heritage ended
Top 10 danger sites
Year forecasting
Categories by site counts
Site per regions
Analysis
Dashboard 1
Dashboard 2
Story 1